BEFORE THE BOARD OF COUNTY COMMISSIONERS FOR JOSEPHINE COUNTY
STATE OF OREGON

In the Matter of Annexation to the	)	
JOSEPHINE COMMUNITY LIBRARY DISTRICT	)	**ORDER NO. 2026-002**
By Petition of Landowner, Without Election	)	

WHEREAS, this matter is before the Josephine County Board of Commissioners upon a petition of landowner for annexation to a district, filed pursuant to ORS 198.857, as follows:

DISTRICT NAME	Josephine Community Library District
DISTRICT TYPE - PRINCIPAL ACT	Library District - ORS Chapter 357.216 to 357.286
PETITIONER(S)	**STONE TRUST, GLORIA I**
MAILING ADDRESS	**10394 TAKILMA RD CAVE JUNCTION, OR 97523**
SITUS ADDRESS	**10394 TAKILMA RD CAVE JUNCTION, OR 97523**
DATE FILED WITH BOARD	December 5, 2025
MAP/TAX LOT	**40-08-34-00-001214-00**
NO. OF ACRES	0.78
LEGAL DESCRIPTION / MAP	Attached hereto as Exhibits A and B

WHEREAS, the Petition was accompanied by:

(1) A certification from the Josephine County Assessor that the petition is signed by the requisite number of qualified landowners of the land proposed to be annexed to the district, as required by ORS 198.765.
(2) A written endorsement of approval by the District Board.
(3) A description of the land to be annexed to the district.

WHEREAS, following proper notice, the Board of County Commissioners having held a public hearing on the petition pursuant to ORS 198.857(3), and having considered the criteria prescribed by ORS 198.857(4), FINDS that the petition satisfies the requirements of ORS 198.857 and declares its approval of the petition;

NOW, THEREFORE, IT IS HEREBY ORDERED that the Josephine County Board of Commissioners declares that the parcel of land, described in Exhibit A attached hereto and incorporated herein, is annexed to the **JOSEPHINE COMMUNITY LIBRARY DISTRICT**.

IT IS FURTHER ORDERED that in accordance with ORS 198.780, duplicate copies of this order of district annexation shall be filed with the Department of Revenue, the Secretary of State, the Josephine County Clerk, and the Josephine County Assessor within ten (10) days of the date this Order is entered.

DONE and DATED this 11th day of March 2026

JOSEPHINE COUNTY
BOARD OF COMMISSIONERS

_____
Ron Smith, Chair

_____
Colene Martin, Vice-Chair

_____
Gary Richardson, Commissioner

Legal Description

40-08-34-00-001214-00

Josephine County, Oregon

PARCEL 1 OF PARTITION PLAT NO. 2015-19, SITUATED IN THE SOUTHWEST QUARTER OF THE SOUTHEAST QUARTER OF SECTION 34, TOWNSHIP 40 SOUTH, RANGE 8 WEST, WILLAMETTE MERIDIAN, JOSEPHINE COUNTY, OREGON.

Exhibit A

THIS MAP WAS PREPARED FOR ASSESSMENT PURPOSE ONLY

0 400 800 Feet

SECTION 34 T.40S. R.8W. W.M.
JOSEPHINE COUNTY
1 " = 400 '

40 08 34

CANCELLED:
1202
1290
1293
1208
1209
1294
1215

40 08 34

Exhibit B

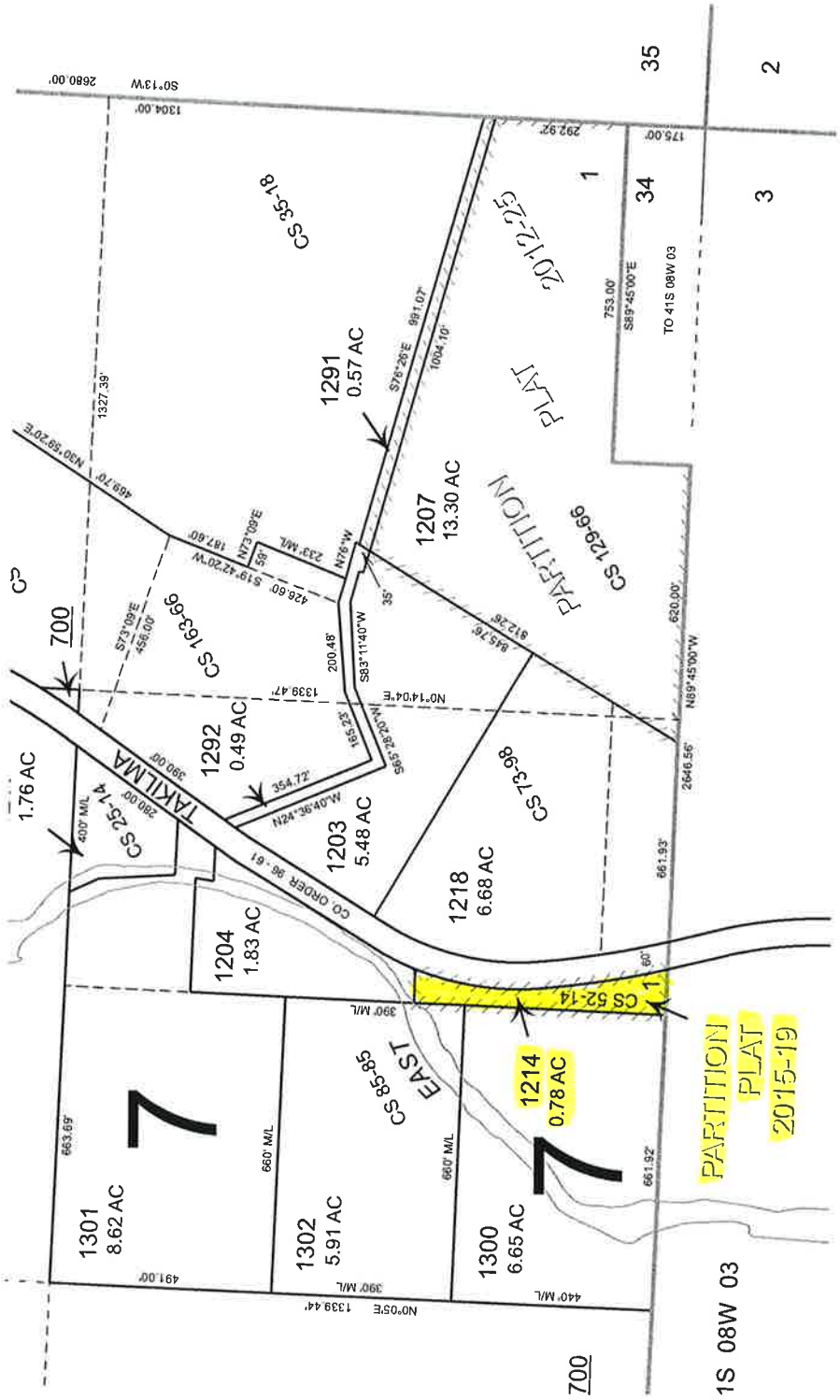
PARTITION PLAT 2015-19
1S 08W 03
TO 41S 08W 03
1301 8.62 AC
1302 5.91 AC
1300 6.65 AC
1214 0.78 AC
CS 52-14
1204 1.83 AC
1203 5.48 AC
1218 6.68 AC
1292 0.49 AC
1291 0.57 AC
1207 13.30 AC
CS 25-14
1.76 AC
CS 16-66
CS 73-98
CS 129-66
CS 85-18
CS 86-85
TAKILMA
CO. ORDER 96-61
EAST
700
35
34
3
2
1

Exhibit B

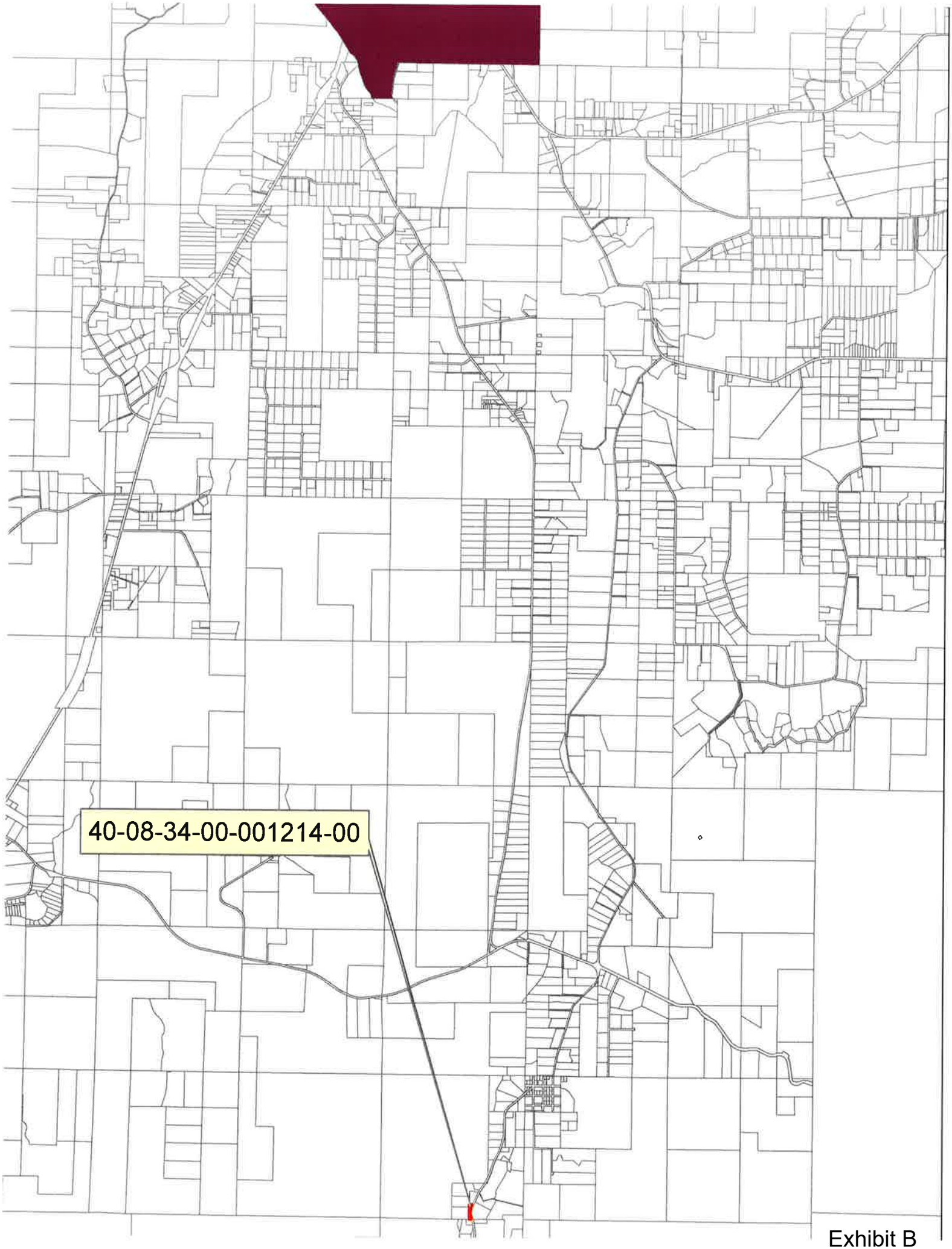

Exhibit B

BEFORE THE BOARD OF COUNTY COMMISSIONERS FOR JOSEPHINE COUNTY
STATE OF OREGON

In the Matter of Annexation to the	)	
JOSEPHINE COMMUNITY LIBRARY DISTRICT	)	**ORDER NO. 2026-003**
By Petition of Landowner, Without Election	)	

WHEREAS, this matter is before the Josephine County Board of Commissioners upon a petition of landowner for annexation to a district, filed pursuant to ORS 198.857, as follows:

DISTRICT NAME	Josephine Community Library District
DISTRICT TYPE - PRINCIPAL ACT	Library District - ORS Chapter 357.216 to 357.286
PETITIONER(S)	**OAKES, LAUREN AND HIRSH, LOGAN**
MAILING ADDRESS	**655 Logan Cut Dr., Cave Junction, OR 97523**
SITUS ADDRESS	**655 Logan Cut Dr., Cave Junction, OR 97523**
DATE FILED WITH BOARD	December 5, 2025
MAP/TAX LOT	**40-08-04-00-000607-00**
NO. OF ACRES	5.00
LEGAL DESCRIPTION / MAP	Attached hereto as Exhibits A and B

WHEREAS, the Petition was accompanied by:

(1) A certification from the Josephine County Assessor that the petition is signed by the requisite number of qualified landowners of the land proposed to be annexed to the district, as required by ORS 198.765.
(2) A written endorsement of approval by the District Board.
(3) A description of the land to be annexed to the district.

WHEREAS, following proper notice, the Board of County Commissioners having held a public hearing on the petition pursuant to ORS 198.857(3), and having considered the criteria prescribed by ORS 198.857(4), FINDS that the petition satisfies the requirements of ORS 198.857 and declares its approval of the petition;

NOW, THEREFORE, IT IS HEREBY ORDERED that the Josephine County Board of Commissioners declares that the parcel of land, described in Exhibit A attached hereto and incorporated herein, is annexed to the **JOSEPHINE COMMUNITY LIBRARY DISTRICT**.

IT IS FURTHER ORDERED that in accordance with ORS 198.780, duplicate copies of this order of district annexation shall be filed with the Department of Revenue, the Secretary of State, the Josephine County Clerk, and the Josephine County Assessor within ten (10) days of the date this Order is entered.

DONE and DATED this 11th day of March 2026

JOSEPHINE COUNTY
BOARD OF COMMISSIONERS

_____
Ron Smith, Chair

_____
Colene Martin, Vice-Chair

_____
Gary Richardson, Commissioner

Legal Description

40-08-04-00-000607-00

Josephine County, Oregon

A parcel of land in the Southwest Quarter of the Southeast Quarter of Section 4, Township 40 South, Range 8 West, of the Willamette Meridian, Josephine County, Oregon, more particularly described as follows: Commencing at the Southeast corner of said Section 4; thence South 89°50'30" West 1382.00 feet along the South line of said Section 4 to an iron rod, which is the true point of beginning; thence South 89°50'30" West 344.00 feet along the South line of said Section 4 to an iron rod; thence North 0°05'00" East 634.11 feet to an iron rod on the Southerly right of way line of Logan Cut Drive; thence along said right of way line North 89°58'30" East 344.00 feet to an iron rod; thence South 0°05'00" West 633.31 feet to the true point of beginning.

Exhibit A

SECTION 4 T.40S R8W W.M.
JOSEPHINE COUNTY

1" = 400'

Exhibit B

This map was prepared for assessment purposes only.

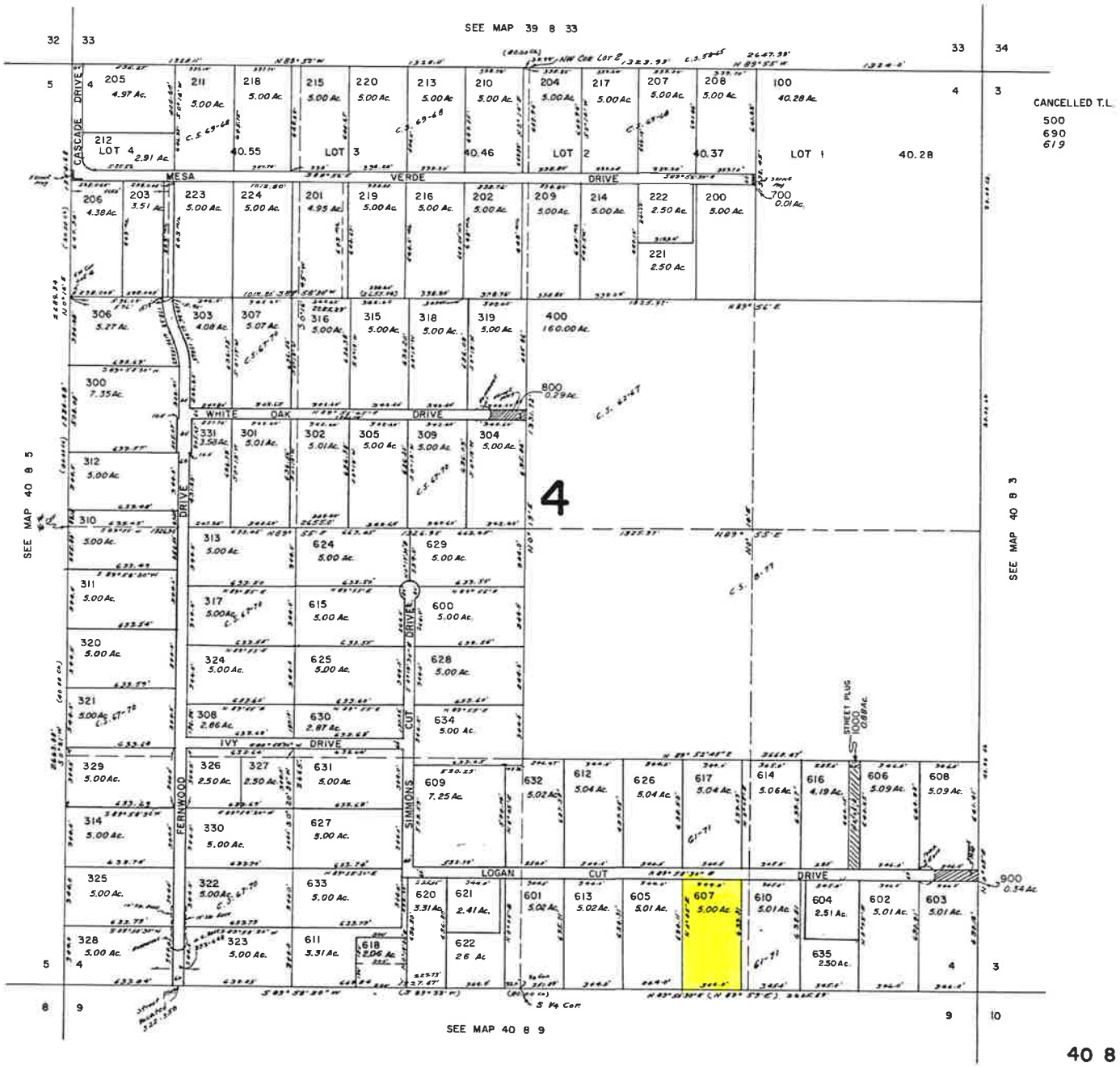

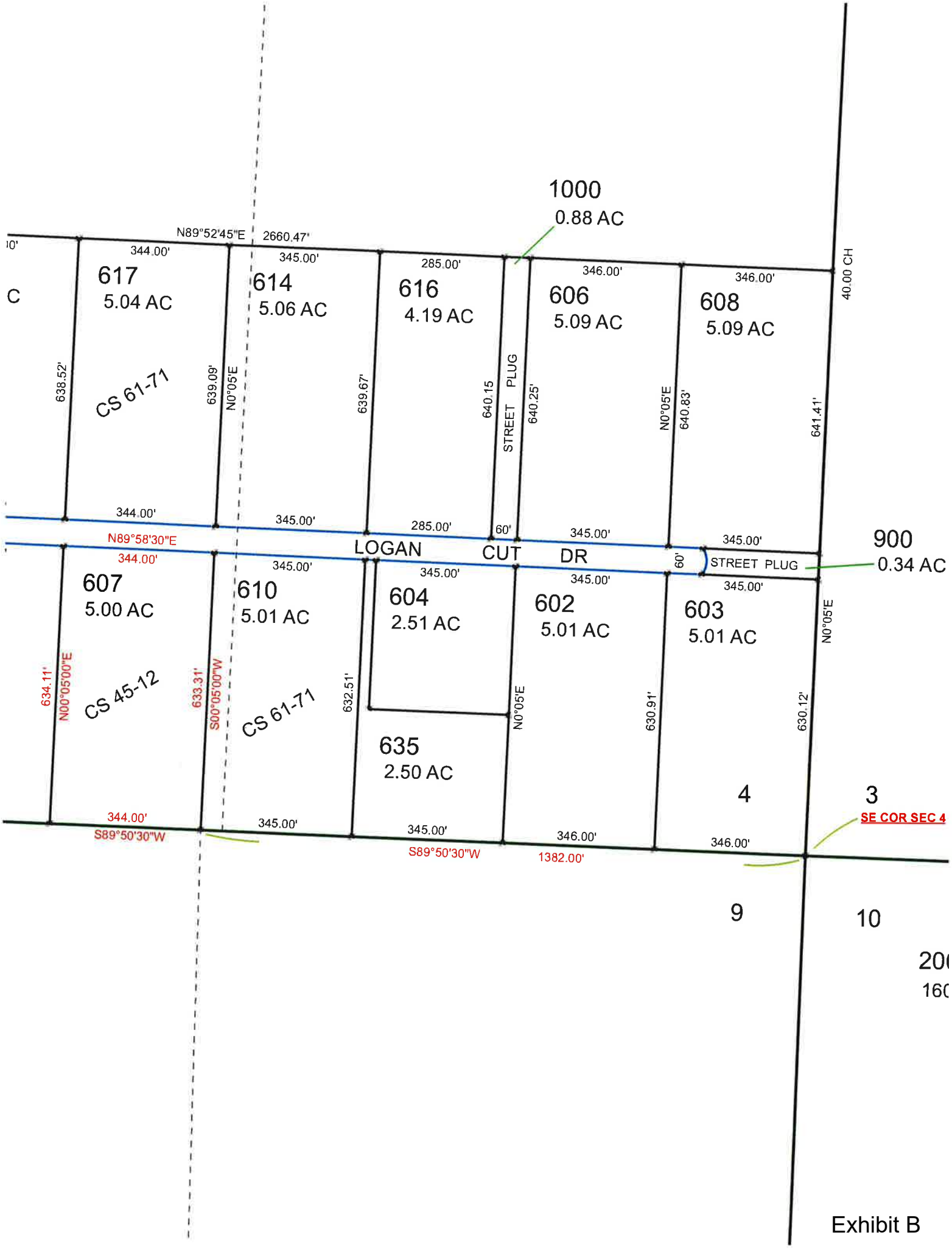
1000
0.88 AC
N89°52'45"E
2660.47'
617
5.04 AC
614
5.06 AC
616
4.19 AC
606
5.09 AC
608
5.09 AC
CS 61-71
638.52'
639.09'
N0°05'E
639.67'
640.15
STREET PLUG
640.25'
N0°05'E
640.83'
641.41'
40.00 CH
344.00'
345.00'
285.00'
346.00'
346.00'
N89°58'30"E
LOGAN CUT DR
60'
STREET PLUG
900
0.34 AC
607
5.00 AC
610
5.01 AC
604
2.51 AC
602
5.01 AC
603
5.01 AC
CS 45-12
634.11'
N00°05'00"E
633.31'
S00°05'00"W
CS 61-71
632.51'
N0°05'E
630.91'
630.12'
N0°05'E
635
2.50 AC
4
3
SE COR SEC 4
S89°50'30"W
1382.00'
9
10

Exhibit B

Exhibit B

Josephine County
Solid Waste Agency

January 23, 2026

Josephine County Board of Commissioners
Josephine County Courthouse
Grants Pass, Oregon 97526

Re: Rate Case for Southern Oregon Sanitation Kerby Transfer Station

Dear Commissioners:

Southern Oregon Sanitation and Republic Services provide service to customers in Grants Pass, Cave Junction, and Josephine County. The franchise agreements established between the Josephine County Solid Waste Agency (Agency) and the franchisees provide a balance of interests between both parties. The Agency acts on behalf of Josephine County, the City of Grants Pass and the City of Cave Junction in regard to their solid waste franchise agreements. The agreements ensure a guaranteed rate of return to each company in exchange for customers being provided with equitable levels of service established by the Agency. Southern Oregon Sanitation informed the Agency their rate of return is below that permitted in the franchise agreement and requested a rate increase proposal be evaluated. The increase will affect customers in the County and residents who use the Kerby Transfer Station (KTS).

Due to its remote location, KTS has been plagued with issues since it opened in 1993/1994 when it was converted from an active landfill to a transfer station. Excessive vandalism and theft led previous Board of County Commissioners (BCC) to allow for a reduction of hours and allow operational changes to try and reduce the losses that SOS was experiencing in operating the facility. These changes included reducing the hours of operation and the number of days that the facility was open to the public. While these changes helped to reduce the amount of vandalism and theft that were affecting operating margins, the low volumes of trash collected, and the high cost of operating continue to plague the transfer station's ability to operate profitably.

The Agency held multiple public meetings to evaluate rates at KTS to increase profitability or minimize losses. Per the presentation made before the Agency on January 20, 2026, KTS currently only generates approximately $442,258 per year in revenue while costing $632,788 per year to operate. This represents a loss of approximately $190,530 per year.

Per the Solid Waste Franchise Agreement between Josephine County and Southern Oregon Sanitation a profit margin of 9% to 13% is guaranteed. In the previous two year cycle, that profit margin is 5.3% well below the allowed operating margin specified in the agreement. The Agency Board approved rate increases KTS tipping fees and, in accordance with Section 5.5 – Surcharge Funding of the Franchise Agreement, imposes a surcharge on all Josephine County customers in an effort to keep the profitable, but it will make it revenue neutral, so it will no longer be operating at a -30%

margin. The exclusive nature of the franchise imposes an obligation on the government to assure the franchisee receives a reasonable rate of return, and that returns are not excessive.

To regulate rates, the Solid Waste Agency has been delegated by the governing agencies the responsibility to evaluate rate requests. The Agency has prepared this rate case, and has evaluated the financial statements and returns from Southern Oregon Sanitation. The Agency also spent time evaluating alternate methods for establishing solid waste rates. In the Agency's deliberations, the public review process included:

1. Two Public Hearings at regularly scheduled Agency Meetings
2. Final Review with the Agency Board of Directors

The rate evaluation system calls for the Josephine County Commission to act on rates within 60 days of the Agency approval. The agreement specifically states as follows:

Rate Setting:

6.1 The Agency, consistent with the respective solid waste franchise agreements, shall make recommendations, as it deems reasonable and necessary for the adjustment of rates charged for solid waste services. The Agency shall make available for inspection copies of audits, franchisee returns and other similar financial reports utilized in preparing the recommendations. The recommendation shall include a proposed rate schedule. Upon completion of the recommendation the Agency shall submit the same, together with the proposed rate schedule, to the respective governing body of the City and County.

6.2 The governing body shall review the recommendation and determine whether to allow, disallow or modify the recommendations of the Agency within 60 days. Where no final action has been taken by the governing body within 60 days, the recommended rate schedule shall become effective unless and until rescinded by the governing body.

6.3 The Agency shall exercise the authority of the respective governing body to provide immediate and temporary administrative rate adjustments as provided in and limited by the franchise agreements.

Since the Agency process was extensive and the increase is largely borne by the users of the KTS, we are seeking authorization from the Board immediately. Should the Board choose not to have hearings on this issue, the rate adopted would take effect in 60 days from the adoption of the resolution. It is our hope the Commissioners would act immediately to indicate no hearings will be conducted by the County. This would permit SOS to implement their rate increase immediately.

Updated rate sheets Exhibits are attached.

Sincerely,

Jason M Canady
Operating Officer
Josephine County Solid Waste Agency

c: SWA Board of Directors
Wally Hicks, County Legal Counsel

BEFORE THE BOARD OF COUNTY COMMISSIONERS FOR JOSEPHINE COUNTY
STATE OF OREGON

In the Matter of the Sale of County Land Remaining Unsold Following Sheriff's Auction of September 17, 2025	)))	ORDER No. 2026-005

WHEREAS, Josephine County owns a certain parcel of land acquired by the County by foreclosure of delinquent tax liens, or otherwise, which parcel is located at Winona Road in Grants Pass, Oregon, and is more particularly described as folllows;

> A parcel of land located in the Southwest Quarter of the Northwest Quarter of Section 4, Township 35 South, Range 5 West, of the Willamette Meridian, Josephine County, Oregon and described more particularly as follows:
>
> Beginning at a 1" iron pipe set on the West Section Line of said Section 4, said pipe being North 00°04½' West of and 565.2 feet distance from the West Quarter Corner of said Section 4; thence North 89°55½' East for 80.0 feet to a 1" iron pipe; thence North 00°04½' West for 285.4 feet to the South right of way line of Winona Road, a county road; thence Northwesterly along the curve of said right of way line to the West Section line of said Section 4; the chord of which bears North 23°39' West for 200.0 feet; thence South 00°04½' East for 468.7 feet to the point of beginning; containing 0.69 acre more or less.
>
> Situs: Winona Rd, Grants Pass, Oregon
> Assessor's map: 35-05-04-B0-000600-00
> Tax Account Number: R302226

WHEREAS, by Order No. 2025-063, dated August 7, 2025, the Josephine County Board of Commissioners, directed the Sheriff to sell the above-described properties at a public Sheriff's auction pursuant to ORS 275.110 – 275.160; and

WHEREAS, the above-described property remained unsold following the Sheriff's sale held on September 17, 2025; and

WHEREAS, the Josephine County Board of Commissioners has determined that it is in the best interest of the County to sell and convey the above-described property by private sale as authorized by ORS 275.200; now, therefore,

IT IS HEREBY ORDERED as follows:

1. The county land parcel, described in hereinabove, shall be sold at private sale, without further notice, pursuant to ORS 275.200, for the amounts and under the terms set out in Exhibit 1; and

2. Pursuant to Josephine County Administrative Policy E-07, the County

Finance Director is hereby directed to deduct from the gross proceeds from the sale of Tax Account R302226 ($8,350) the amounts authorized by ORS 275.275(1)(a)-(c) and(3)(a)(A) as follows:

a. $3,438.50 to the County General Fund for taxes, interest and fees owed, distributed as follows:

i. $3,102.33 to 980000 26300 for Taxes & Interest
ii. $200.00 to 101210 33123 for Foreclosure Fees
iii. $78.67 to 101210 33144 for Publication Fees
iv. $57.50 to 471930-37300 for ODF Wildfire Protection Special Assessment

b. $918.50 to Fund 40-1930, Property Management, for property management administrative costs incurred in the inventory, supervision, and sale of the property.

c. $778.00 coded to 471930-37300 for cleanup of property and other property costs.

d. The balance of $3,215.00 shall be deposited into the Surplus Tax Fund 78-0000, which shall accrue interest.

3. Notice as to Municipal Claim: No Municipal claims were asserted.

4. Pursuant to ORS 275.250, a copy of this Order shall be filed with the Josephine County Tax Assessor.

5. The Board of County Commissioners shall execute all documents necessary to accomplish the sale.

Dated this ____ day of March, 2026.

JOSEPHINE COUNTY
BOARD OF COMMISSIONERS

_____
Ron Smith, Chair

_____
Colene Martin, Vice-Chair

_____
Gary Richardson, Commissioner

EXHIBIT 1

Tax ID #	Map & Tax Lot No.	Address	Sales Price	Terms of Sale	Purchaser
R302226	35-05-04-B0-000600-00	Winona Rd	$8,350	Cash	Kevin Grevenkamp

Josephine County 500 NW 6th Street Grants Pass, Oregon 97526 Grantor's Name and Address After recording return document and send tax statements to: Kevin Grevenkamp PO Box 793 Big Pine, CA 93513 Grantee's Name and Address	

QUITCLAIM DEED

Josephine County, a political subdivision of the State of Oregon, Grantor, releases and quitclaims to **Kevin Grevenkamp**, Grantee, all right, title and interest in and to the following described real property:

A parcel of land located in the Southwest Quarter of the Northwest Quarter of Section 4, Township 35 South, Range 5 West, of the Willamette Meridian, Josephine County, Oregon and described more particularly as follows:

Beginning at a 1" iron pipe set on the West Section Line of said Section 4, said pipe being North 00°04½' West of and 565.2 feet distance from the West Quarter Corner of said Section 4; thence North 89°55½' East for 80.0 feet to a 1" iron pipe; thence North 00°04½' West for 285.4 feet to the South right of way line of Winona Road, a county road; thence Northwesterly along the curve of said right of way line to the West Section line of said Section 4; the chord of which bears North 23°39' West for 200.0 feet; thence South 00°04½' East for 468.7 feet to the point of beginning; containing 0.69 acre more or less.

Situs: Winona Rd, Grants Pass, Oregon Assessor's map: 35-05-04-B0-000600-00
Tax Account Number: R302226

BEFORE SIGNING OR ACCEPTING THIS INSTRUMENT, THE PERSON TRANSFERRING FEE TITLE SHOULD INQUIRE ABOUT THE PERSON'S RIGHTS, IF ANY, UNDER ORS 195.300, 195.301 AND 195.305 TO 195.336 AND SECTIONS 5 TO 11, CHAPTER 424, OREGON LAWS 2007, SECTIONS 2 TO 9 AND 17, CHAPTER 855, OREGON LAWS 2009, AND SECTIONS 2 TO 7, CHAPTER 8, OREGON LAWS 2010. THIS INSTRUMENT DOES NOT ALLOW USE OF THE PROPERTY DESCRIBED IN THIS INSTRUMENT IN VIOLATION OF APPLICABLE LAND USE LAWS AND REGULATIONS. BEFORE SIGNING OR ACCEPTING THIS INSTRUMENT, THE PERSON ACQUIRING FEE TITLE TO THE PROPERTY SHOULD CHECK WITH THE APPROPRIATE CITY OR COUNTY PLANNING DEPARTMENT TO VERIFY THAT THE UNIT OF LAND BEING TRANSFERRED IS A LAWFULLY ESTABLISHED LOT OR PARCEL, AS DEFINED IN ORS 92.010 OR 215.010, TO VERIFY THE APPROVED USES OF THE LOT OR PARCEL, TO DETERMINE ANY LIMITS ON LAWSUITS AGAINST FARMING OR FOREST PRACTICES, AS DEFINED IN ORS 30.930, AND TO INQUIRE ABOUT THE RIGHTS OF NEIGHBORING PROPERTY OWNERS, IF ANY, UNDER ORS 195.300, 195.301 AND 195.305 TO 195.336 AND SECTIONS 5 TO 11, CHAPTER 424, OREGON LAWS 2007, SECTIONS 2 TO 9 AND 17, CHAPTER 855, OREGON LAWS 2009, AND SECTIONS 2 TO 7, CHAPTER 8, OREGON LAWS 2010.

The true consideration for this conveyance is $8,350.00.

The Order of the Board of Commissioners of Josephine County authorizing this sale pursuant to ORS 275.225, is dated _____, 2026, and recorded in the Board of Commissioners' Journal as Order No. 2026-005.

In Witness Whereof, the grantor has executed this instrument this __ day of _____, 2026.

STATE OF OREGON)
) ss.
County of Josephine)

This instrument was acknowledged before me on this ____ day of _____, 2026, by _____

as members of the Josephine County Board of Commissioners.

_____
Notary Public for Oregon
My Commission Expires: _____

Grantor:
JOSEPHINE COUNTY
BOARD OF COMMISSIONERS

_____
Ron Smith, Chair

_____
Colene Martin, Vice-Chair

_____
Gary Richardson, Commissioner

Date: _____

BEFORE THE BOARD OF COUNTY COMMISSIONERS FOR
JOSEPHINE COUNTY, STATE OF OREGON

In the Matter of Uniform Procedure for Setting Fees Charged	)	
by County and Setting a Public Hearing:	)	**Order No. 2026 - 006**
Community Development - Planning	)	

WHEREAS, at the May 16, 2000 election, the voters of Josephine County approved County Measure 17.73 (Board of County Commissioners Order 2000-25 dated March 13, 2000) establishing a uniform procedure for setting fees charged by Josephine County in compliance with the Josephine County Charter; and

WHEREAS, said procedure requires that the Board of Commissioners set a time and place for a hearing to allow public comment prior to the establishment or increase of any fee charged by Josephine County for any product, service, license or permit, except where provided by federal or state law, rule, or regulation; now, therefore,

IT IS HEREBY ORDERED as follows:

1) A public hearing shall be held on **Wednesday, April 1, 2026** at the hour of **9:00 a.m.** in the Anne Basker Auditorium, Courthouse Annex, in Grants Pass, Oregon.

2) Notice of said hearing shall be published two times in the Daily Courier not less than three days, nor more than 30 days, prior to the date set for hearing.

3) At the time set for public hearing the Board of Commissioners will allow public comment, both in favor of and in opposition to fee change proposals (attached hereto) for the following county programs:

    a) Community Development - Planning

4) The cost of the proposed fees shall be calculated to cover the cost of providing the products, services, and administration of any program directly related to such fees.

5) No fee established or increased hereunder shall be effective until 30 days following adoption by Order of the Board of County Commissioners.

DATED this 11th day of March 2026

JOSEPHINE COUNTY
BOARD OF COMMISSIONERS

_____
Ron Smith, Chair

_____
Colene Martin, Vice Chair

_____
Gary Richardson, Commissioner