Item 3 (First)

RECEIVED

MAR - 9 2026

JOSEPHINE
COUNTY CLERK

I HEREBY CERTIFY THAT ALL SIGNATURES ON THIS PETITION ARE THOSE OF PROPERTY OWNERS OF AREA TO BE ANNEXED TO THIS DISTRICT

SIGNATURE OF ASSESSOR OR DEPUTY

DATE OF CERTIFICATION: 3-9-26

DATE SUBMITTED TO COUNTY CLERK FOR FILING WITH THE BOARD OF COUNTY COMMISSIONERS: _____

BEFORE THE BOARD OF COUNTY COMMISSIONERS FOR JOSEPHINE COUNTY
STATE OF OREGON

IN THE MATTER OF THE ANNEXATION)
OF A SINGLE PARCEL OF PROPERTY) PETITION
INTO THE Josephine Community Library)
DISTRICT WITHOUT ELECTION)

PETITIONERS (Contact Information) [ORS 198.760(3)]:

Name	Mailing Address	Phone Number	Email Address (optional)
KLEIN LIVING TRUST, JONATHAN D	12330 TAKLIMA RD CAVE JUNCTION, OR 97523	confidential contact	
		library director if needed	

(for additional petitioners, please add additional pages)

DATE SUBMITTED TO COUNTY ASSESSOR: 3-2-26

The undersigned do hereby petition the Board of County Commissioners of Josephine County, Oregon for annexation of land to a special district and in support thereof do state as follows:

1. [ORS 198.705] The type of special district to which land is being annexed is: Library District.

2. [ORS 198.750(1)] This petition is filed pursuant to ORS 198.857.

3. Josephine County is the only affected county. The name and principal Act of the district to which land is being annexed is: Josephine Community Library District. Principal Act: ORS 357.

4. The names and principal Acts of all other affected districts are:

Name: Rogue Community College	Principal Act: ORS 341.
Name: Southern Oregon ESD	Principal Act: ORS 334.
Name: 4H/Extension Service	Principal Act: ORS 451.
Name: JOCO LAW ENFORCEMENT DISTRICT	Principal Act: ORS 451.
Name: ILLINOIS VALLEY RFPD	Principal Act: ORS 451.
Name:	Principal Act: ORS_____.

5. This petition is for annexation of land to the above-named district.

6. The territory subject to the petition is (strike out one) *inhabited/uninhabited.*

7. The annexation (strike out one) *is/is not* to be subject to any proposed terms and conditions. If it is, they are set forth as follows:

_____

_____

8. The signature sheets attached hereto are a part of this petition. The signature sheets are signed by 100% of the owners of the single parcel of property subject to this petition.

9. This petition requires that proceedings be taken for the annexation of the specified land to the district.

10. [ORS 197.750(2)] Attached hereto is a description of the boundaries of the territory proposed to be annexed to the district.

11. [ORS 197.750(4)] This petition is verified by the affidavit of the person circulating the petition.

12. [ORS 198.760(1)] Each person signing the petition has also printed the person's name and has added after the signature date of signing.

13. If the signer is a legal representative of the owner, the signature is accompanied by a certified copy of the signer's authority to sign as a legal representative.

14. [ORS 198.765(1)] All signatures on the signature sheets attached to this petition have been secured within six (6) months of the date on which the first signature on the petition was affixed.

15. [ORS 198.800] This petition has been approved by endorsement thereon by any agency required by the principal Act to endorse or approve the petition.

    [ORS 198.850] This petition has been approved by endorsement thereon by the board of the special district to which the land is being annexed.

16. [ORS 198.860] The petitioners understand that upon annexation of the property to the special district the property shall become subject to the permanent rate limit established, any local option taxes of the district, and any outstanding indebtedness of the district (bonded or otherwise), unless otherwise provided in a debt distribution plan.

Initials of all Petitioners: J D K

17. [ORS 198.775] A security deposit in the form of $60 cash or check is attached to this petition. The petitioners understand that if the annexation is successful the deposit shall be returned to the petitioners (unless it is posted by the special district on the petitioners' behalf), but if the annexation is not successful the county shall retain the portion of the cash deposit to cover costs. If the bond or cash deposit does not cover the county's costs, the petitioners shall pay to the County Treasurer the amount of excess costs.

18. The petitioners are aware that this form is provided to them by Josephine County as a convenience only and that Josephine County cannot give petitioners any legal advice concerning the annexation of land to the district.

19. The principal Act of this proposed special district additionally requires that this petition state the following:_____

20. Is any part of the territory subject to this petition for annexation within a city?

☐ Yes ☑ No If yes, then this petition must be accompanied by a certified copy of a resolution of the governing body of the city approving the petition.

21. Is any part of the territory subject to this petition for annexation outside a city's limits but within a city's urban growth boundary? ☐ YES ☑ NO

22. ATTACHMENTS TO PETITION:
Attached hereto and by this reference incorporated herein are the following attachments: (check as applicable)

- X Signature sheets consisting of 1 number of pages.
- X Description of the boundaries of the land to be annexed.
- ___ Certified copies of signers authority to sign as a legal representative consisting of __ number of pages
- X Endorsement by the board of the special district to which land is being annexed.
- X Security Deposit in the form of ___ bond or X cash.
- X Other attachments or maps consisting of 1 number of pages.

SIGNATURE SHEET

NOTE: Each of the owners of a single parcel of property subject to this petition must provide a signature sheet. If the signer is a legal representative of the owner, the signature shall be accompanied by a certified copy of the signer's authority to sign as a legal representative.

SIGNATURE OF OWNER OF THE PARCEL OF LAND	Jonathan D. Klein
PRINTED NAME	KLEIN, JONATHAN D (TRUSTEE)
DATE SIGNED	Oct 23, 2025
LEGAL REPRESENTATIVE OF OWNER?	YES [ ] NO [ ]
NUMBER OF ACRES OF THE LAND OWNED BY THE SIGNER	56.49 acres
COUNTY	Josephine County
ASSESSOR"S MAP AND TAX LOT NUMBER	41-08-10-00-000601-00

CERTIFICATION:

I, (print name) JESSICA R CANNON verify that I witnessed the signing of this signatures sheet by the individual whose signature appears on this sheet.

SIGNATURE of the person making the certification: _____

DISTRICT ENDORSEMENT OF APPROVAL

The District Board, being the governing body of the below listed, district, by and through its Chairman and Secretary, hereby certify that the attached petition for annexation to said district of the properties owned by petitioner herein, has been considered by said governing body and by vote of said board, at a special meeting thereof, said petition has been approved.

Josephine Community Library District

District Name

Chairman: Gina Marie Agosta

Secretary: Kate Jasky

APPROVED

Legal Description

41-08-10-00-000601-00

Josephine County, Oregon

Beginning at the Northwest corner of the Southeast Quarter of Section 10, Township 41 South, Range 8 West of the Willamette Meridian, Josephine County, Oregon; and run thence South 675 feet to a point which is 645 feet North of the Southwest corner of the Northwest Quarter of the Southeast Quarter of said Section 10; thence East 225 feet; thence South 685 feet to the center of the Bridge over Long Gulch; thence Southwesterly along the center line of Long Gulch, 670 feet, more or less, to a point which is 200 feet West and 820 feet North of the Southwest corner of the Southeast Quarter of said Section 10; thence South 820 feet to the South line of said Section 10; thence East 1520 feet to the Southeast corner of the Southwest Quarter of the Southeast Quarter of said Section 10; thence North, along the East line thereof, to the center line of the East Fork Illinois River; thence Northerly, along the center line of said East Fork Illinois River to the North line of the Northwest Quarter of the Southeast Quarter of said Section 10; thence West, along said line, to the point of beginning.

Exhibit ____

THIS MAP WAS PREPARED FOR ASSESSMENT PURPOSE ONLY

0 400 800 Feet

SECTION 10 T.41S. R.8W. W.M.
JOSEPHINE COUNTY
1 " = 400 '

41 08 10

CANCELLED:
401
690

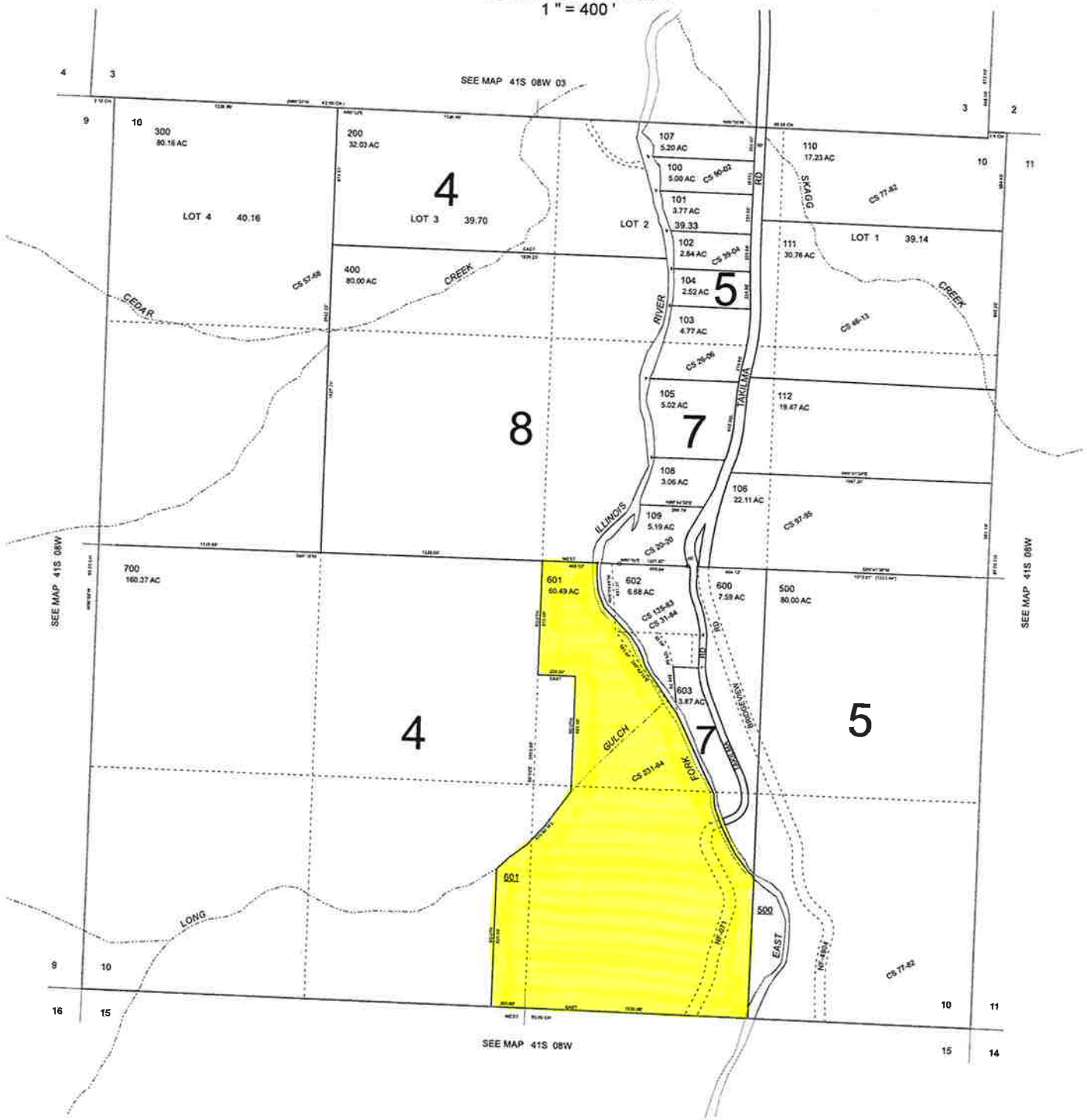

41 08 10

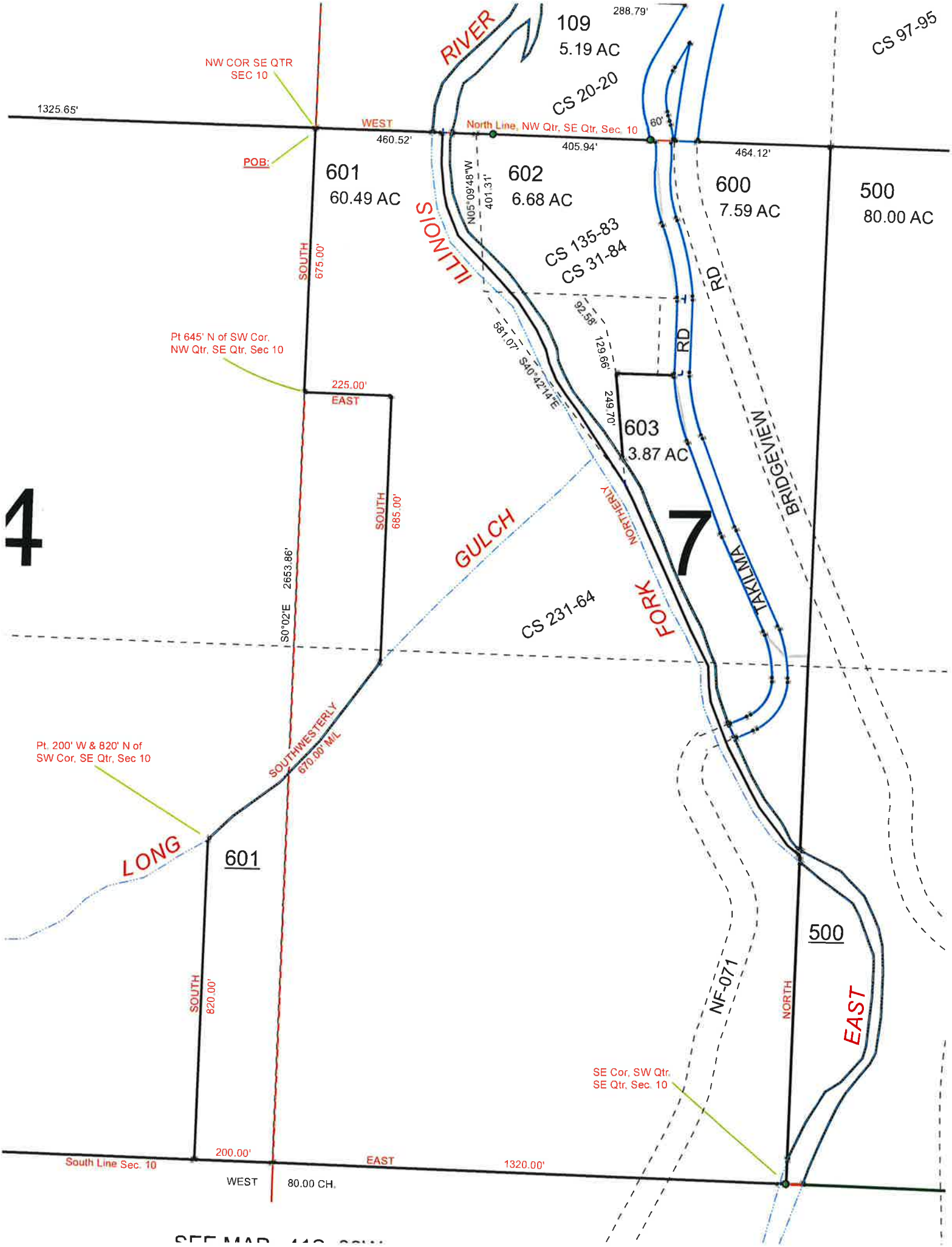
NW COR SE QTR
SEC 10
1325.65'
WEST
460.52'
POB:
601
60.49 AC
SOUTH
675.00'
Pt 645' N of SW Cor,
NW Qtr, SE Qtr, Sec 10
225.00'
EAST
SOUTH
685.00'
2653.86'
S0°02'E
Pt. 200' W & 820' N of
SW Cor, SE Qtr, Sec 10
SOUTHWESTERLY
670.00' M/L
LONG
601
SOUTH
820.00'
200.00'
South Line Sec. 10
WEST
80.00 CH.
EAST
1320.00'
4
RIVER
109
5.19 AC
288.79'
CS 20-20
CS 97-95
North Line, NW Qtr, SE Qtr, Sec. 10
60'
405.94'
464.12'
602
6.68 AC
N05°09'48"W
401.31'
ILLINOIS
600
7.59 AC
500
80.00 AC
CS 135-83
CS 31-84
92.58'
129.66'
581.07'
S40°42'14"E
249.70'
603
3.87 AC
RD
RD
BRIDGEVIEW
NORTHERLY
7
GULCH
FORK
TAKILMA
CS 231-64
NF-071
500
NORTH
EAST
SE Cor, SW Qtr,
SE Qtr, Sec. 10

SEE MAP

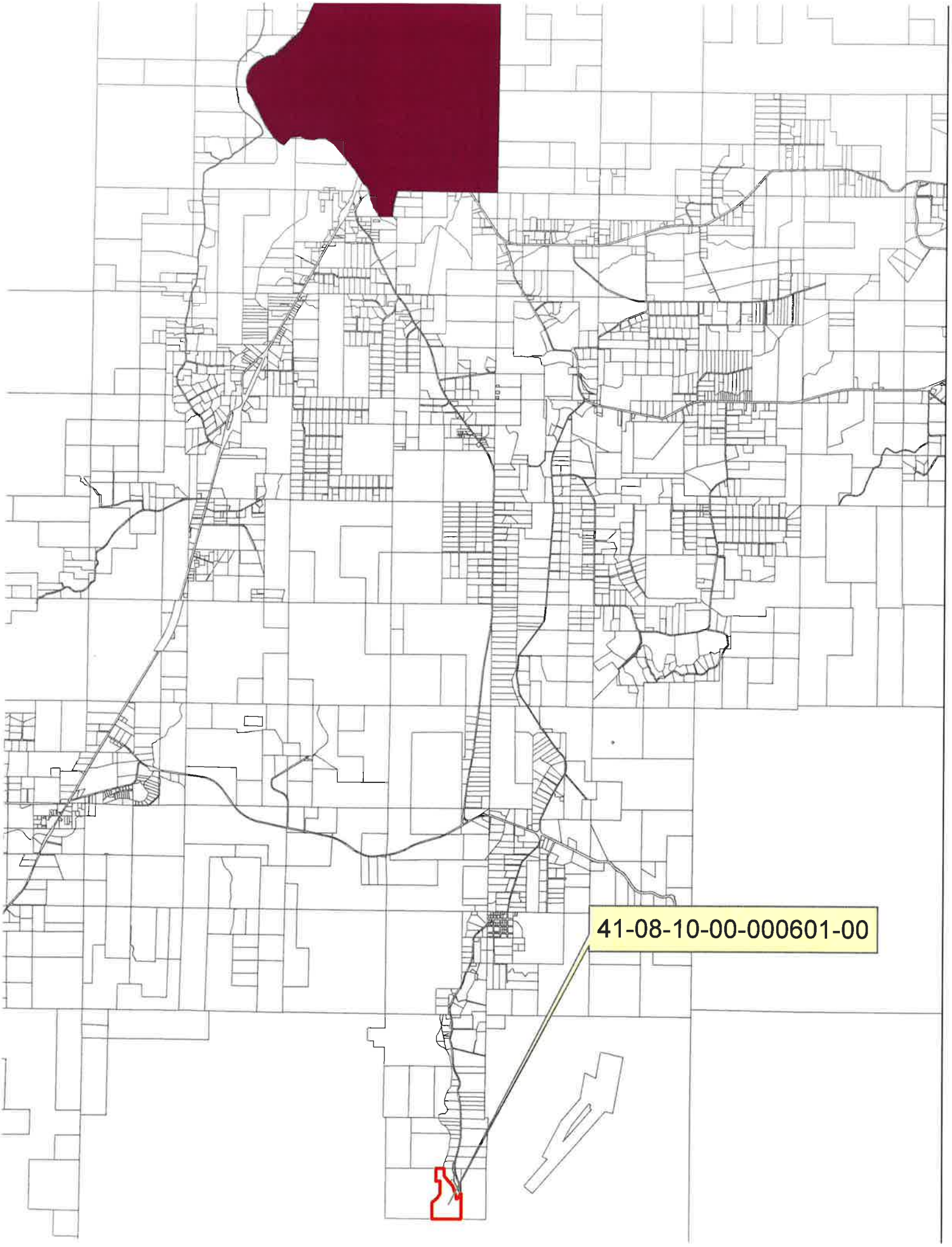
41-08-10-00-000601-00

Item 3 (Second)

RECEIVED

MAR - 9 2026

JOSEPHINE
COUNTY CLERK

I HEREBY CERTIFY THAT ALL SIGNATURES ON THIS PETITION ARE THOSE OF PROPERTY OWNERS OF AREA TO BE ANNEXED TO THIS DISTRICT

SIGNATURE OF ASSESSOR OR DEPUTY

Dale Sinclair

DATE OF CERTIFICATION: 3-9-26

DATE SUBMITTED TO COUNTY CLERK FOR FILING WITH THE BOARD OF COUNTY COMMISSIONERS: _____

BEFORE THE BOARD OF COUNTY COMMISSIONERS FOR JOSEPHINE COUNTY
STATE OF OREGON

IN THE MATTER OF THE ANNEXATION)
OF A SINGLE PARCEL OF PROPERTY) PETITION
INTO THE Josephine Community Library)
DISTRICT WITHOUT ELECTION)

PETITIONERS (Contact Information) [ORS 198.760(3)]:

Name	Mailing Address	Phone Number	Email Address (optional)
JUCEVIC, ANTHONY V	1609 CAVES CAMP RD WILLIAMS, OR 97544	confidential contact	
		library director if needed	

(for additional petitioners, please add additional pages)

DATE SUBMITTED TO COUNTY ASSESSOR: 3-2-26

The undersigned do hereby petition the Board of County Commissioners of Josephine County, Oregon for annexation of land to a special district and in support thereof do state as follows:

1. [ORS 198.705] The type of special district to which land is being annexed is: Library District.

2. [ORS 198.750(1)] This petition is filed pursuant to ORS 198.857.

3. Josephine County is the only affected county. The name and principal Act of the district to which land is being annexed is: Josephine Community Library District. Principal Act: ORS 357.

4. The names and principal Acts of all other affected districts are:

Name: Rogue Community College	Principal Act: ORS 341.
Name: Southern Oregon ESD	Principal Act: ORS 334.
Name: 4H/Extension Service	Principal Act: ORS 451.
Name: JOCO LAW ENFORCEMENT DISTRICT	Principal Act: ORS 451.
Name: WILLIAMS RFPD	Principal Act: ORS 451.
Name: 3 RIVERS SCHOOL DISTRICT	Principal Act: ORS 341.

5. This petition is for annexation of land to the above-named district.

6. The territory subject to the petition is (strike out one) *inhabited/uninhabited.*

7. The annexation (strike out one) *is/is not* to be subject to any proposed terms and conditions. If it is, they are set forth as follows: NONE

8. The signature sheets attached hereto are a part of this petition. The signature sheets are signed by 100% of the owners of the single parcel of property subject to this petition.

9. This petition requires that proceedings be taken for the annexation of the specified land to the district.

10. [ORS 197.750(2)] Attached hereto is a description of the boundaries of the territory proposed to be annexed to the district.

11. [ORS 197.750(4)] This petition is verified by the affidavit of the person circulating the petition.

12. [ORS 198.760(1)] Each person signing the petition has also printed the person's name and has added after the signature date of signing.

13. If the signer is a legal representative of the owner, the signature is accompanied by a certified copy of the signer's authority to sign as a legal representative.

14. [ORS 198.765(1)] All signatures on the signature sheets attached to this petition have been secured within six (6) months of the date on which the first signature on the petition was affixed.

15. [ORS 198.800] This petition has been approved by endorsement thereon by any agency required by the principal Act to endorse or approve the petition.

    [ORS 198.850] This petition has been approved by endorsement thereon by the board of the special district to which the land is being annexed.

16. [ORS 198.860] The petitioners understand that upon annexation of the property to the special district the property shall become subject to the permanent rate limit established, any local option taxes of the district, and any outstanding indebtedness of the district (bonded or otherwise), unless otherwise provided in a debt distribution plan.

    Initials of all Petitioners: T.T

17. [ORS 198.775] A security deposit in the form of $60 cash or check is attached to this petition. The petitioners understand that if the annexation is successful the deposit shall be returned to the petitioners (unless it is posted by the special district on the petitioners' behalf), but if the annexation is not successful the county shall retain the portion of the cash deposit to cover costs. If the bond or cash deposit does not cover the county's costs, the petitioners shall pay to the County Treasurer the amount of excess costs.

18. The petitioners are aware that this form is provided to them by Josephine County as a convenience only and that Josephine County cannot give petitioners any legal advice concerning the annexation of land to the district.

19. The principal Act of this proposed special district additionally requires that this petition state the following:_____

20. Is any part of the territory subject to this petition for annexation within a city?

    ☐ Yes ☑ No If yes, then this petition must be accompanied by a certified copy of a resolution of the governing body of the city approving the petition.

21. Is any part of the territory subject to this petition for annexation outside a city's limits but within a city's urban growth boundary? ☐ YES ☑ NO

22. ATTACHMENTS TO PETITION:
    Attached hereto and by this reference incorporated herein are the following attachments: (check as applicable)
    - x Signature sheets consisting of 1 number of pages.
    - x Description of the boundaries of the land to be annexed.
    - __ Certified copies of signers authority to sign as a legal representative consisting of __ number of pages
    - x Endorsement by the board of the special district to which land is being annexed.
    - x Security Deposit in the form of __ bond or x cash.
    - x Other attachments or maps consisting of 1 number of pages.

SIGNATURE SHEET

NOTE: Each of the owners of a single parcel of property subject to this petition must provide a signature sheet. If the signer is a legal representative of the owner, the signature shall be accompanied by a certified copy of the signer's authority to sign as a legal representative.

SIGNATURE OF OWNER OF THE PARCEL OF LAND	
PRINTED NAME	JUCEVIC, ANTHONY V
DATE SIGNED	11/7/2025
LEGAL REPRESENTATIVE OF OWNER?	YES [ ] NO [ ]
NUMBER OF ACRES OF THE LAND OWNED BY THE SIGNER	13.33 acres
COUNTY	Josephine County
ASSESSOR"S MAP AND TAX LOT NUMBER	39-05-18-00-000102-00

CERTIFICATION:

I, (print name) Michelle Rosenberger verify that I witnessed the signing of this signatures sheet by the individual whose signature appears on this sheet.

SIGNATURE of the person making the certification: _____

DISTRICT ENDORSEMENT OF APPROVAL

The District Board, being the governing body of the below listed, district, by and through its Chairman and Secretary, hereby certify that the attached petition for annexation to said district of the properties owned by petitioner herein, has been considered by said governing body and by vote of said board, at a special meeting thereof, said petition has been approved.

Josephine Community Library District

District Name

Chairman: Gina Marie Agosta

Secretary: Kate Lusky

☑ APPROVED

Legal Description

39-05-18-00-000102-00

Josephine County, Oregon

Commencing at the Northeast corner of Section 18, Township 39 South, Range 5 West of the Willamette Meridian, Josephine County, Oregon; thence South, along the East line thereof, 440 feet to the true point of beginning; thence continue South, along said East line, 440 feet; thence West, parallel to the North line of said Section, 1295 feet, more or less, to a point that is 25 feet East of the West line of the Northeast Quarter of the Northeast Quarter of said Section; thence North, parallel to said West line, 880 feet to the North line of said Section; thence East, along said North line, 25.0 feet; thence South, parallel to the West line of said Northeast Quarter of the Northeast Quarter, 440 feet; thence East, parallel to the North line of said Section, 1270 feet, more or less, to the true point of beginning. EXCEPTING THEREFROM that portion lying within Caves Camp Road.

Exhibit ____

THIS MAP WAS PREPARED FOR ASSESSMENT PURPOSE ONLY

0 400 800 Feet

SECTION 18 T.39S. R.5W. W.M.
JOSEPHINE COUNTY
1 " = 400 '

39 05 18

CANCELLED
100
105
106
107
113
114
115
116
117
118
390

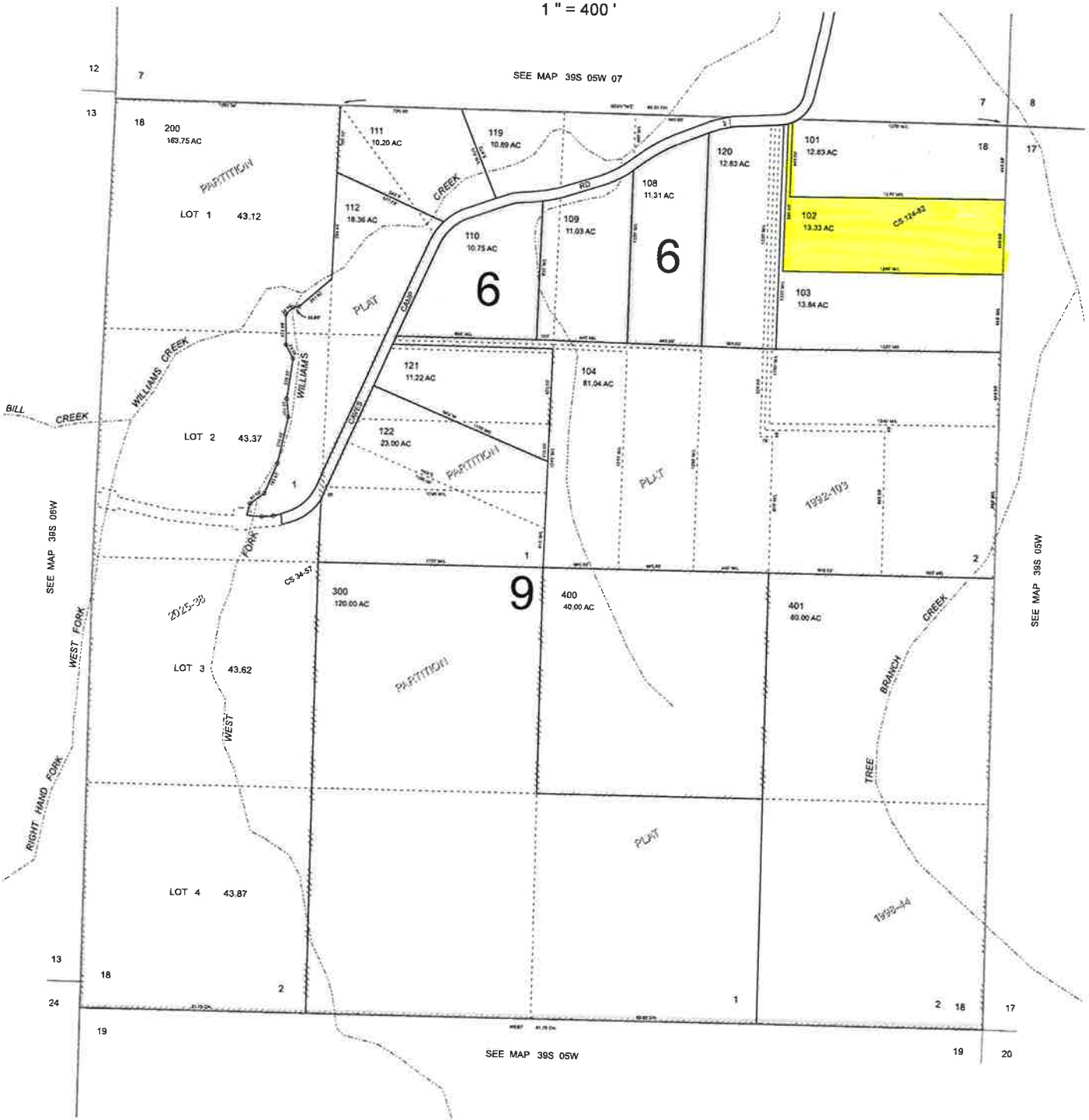

39 05 18

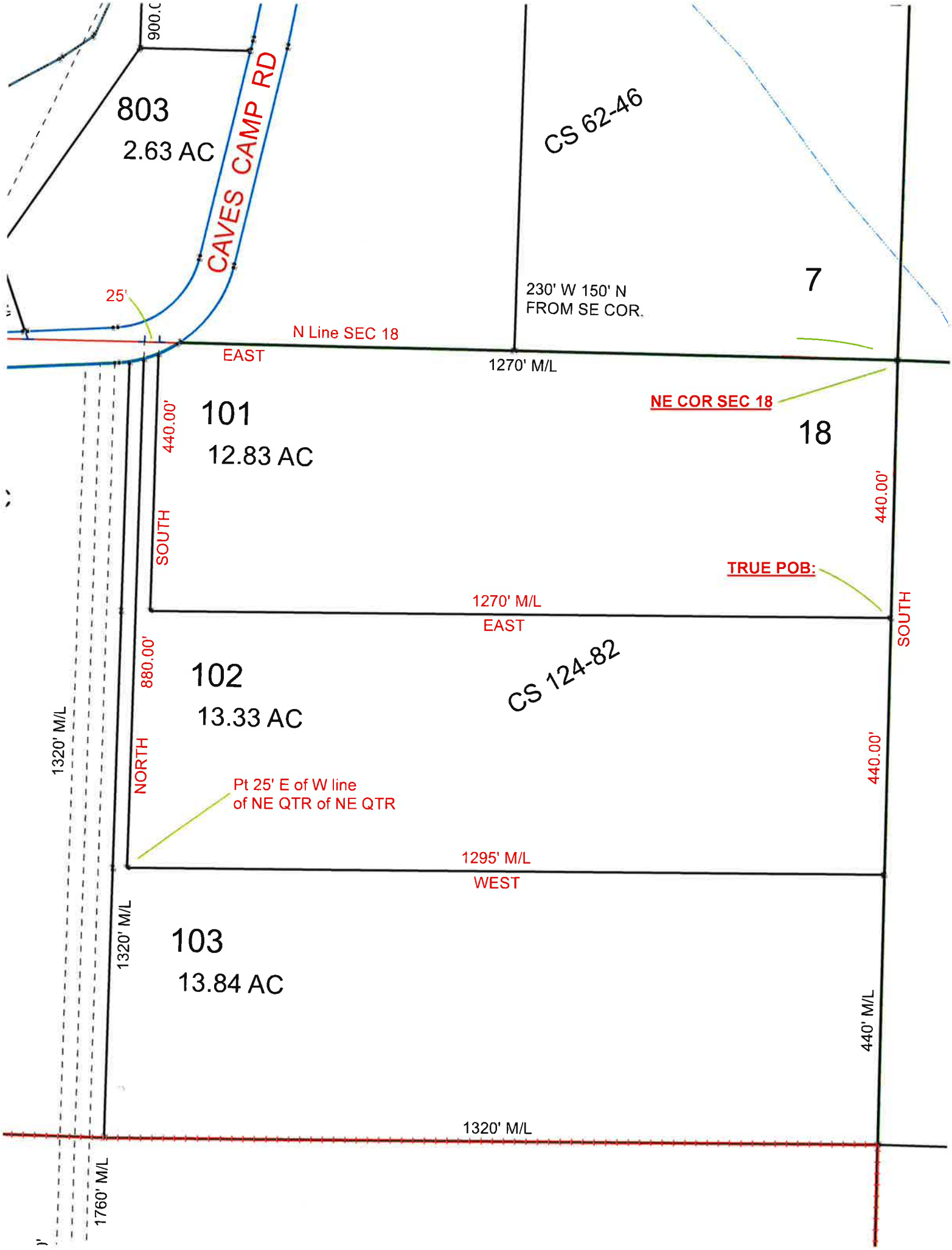
900.0
803
2.63 AC
CAVES CAMP RD
CS 62-46
25'
230' W 150' N
FROM SE COR.
7
N Line SEC 18
EAST
1270' M/L
NE COR SEC 18
18
101
12.83 AC
440.00'
SOUTH
440.00'
TRUE POB:
1270' M/L
EAST
SOUTH
880.00'
102
13.33 AC
CS 124-82
1320' M/L
NORTH
440.00'
Pt 25' E of W line
of NE QTR of NE QTR
1295' M/L
WEST
1320' M/L
103
13.84 AC
440' M/L
1320' M/L
1760' M/L

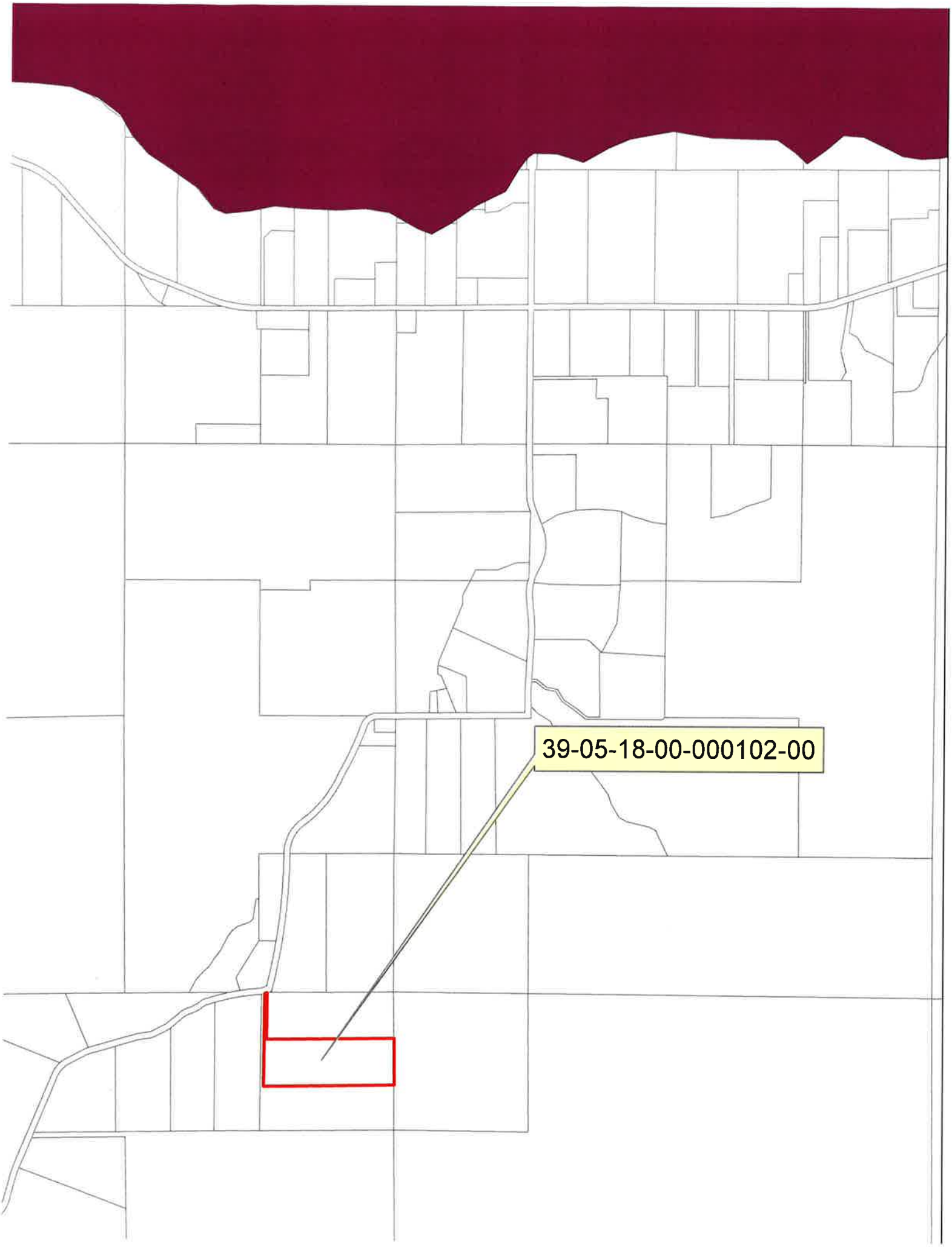
39-05-18-00-000102-00

JOSEPHINE COUNTY, OREGON

MINING ADVISORY COMMITTEE (MAC)

MEETING MINUTES -- JANUARY 14, 2026 APPROVED 04/08/26

Member Attendance:

Don Bellville – Chair

Tom Kitchar – Secretary

Joel Perkins – MAC Member

Sarah Bohmker – MAC Member

Absent: Robert Stumbo – MAC Member

County:

Commissioner Ron Smith

Forestry Director Dave Streeter

MINUTES:

1. The meeting was called to order by Chair D. Bellville at 1:00 pm at the Anne Basker Auditorium in Grants Pass, OR.

   A. Pledge of Allegiance

   B. Chair D. Bellville opened the meeting and it was determined that the MAC had a quorum.

2. J. Perkins made a motion (2nd by S. Bohmker) to Approve the Draft Minutes of the Oct. 8, 2025 MAC meeting. Vote with no discussion passed 4-0.

3. Commissioner Smith had no comments at this time in regards to the Draft MAC County Mining Ordinance, and reported that there were no new Applicants to be on the MAC.

4. Forestry Director Streeter reported that there were no current timber-sales, but maybe late in the spring, that the market was low, and that there were no county properties forsale.

5. Public Comment: There were no Public Comments.

6. Old Business: S. Bohmker made a motion (2nd by J.Perkins) to approve the Amended MAC By-Laws as Drafted. There was no discussion. Motion Passed 4-0. The MAC spent a few minutes discussing possible new MAC applicants – with no solution at this time.

7. New Business: Draft maps prepared by the RR.SNF and Medford BLM showing the location of gates on federally managed lands were examined. Present from BLM was Field Manager Elizabeth Burkhard, Kirby Bean & Andrea. Present from the RR/SNF was Wild Rivers District Ranger Scott Blower and Robert Shoemaker. The MAC had several comments and/or recommendations.

   J. Perkins made a motion (2nd by T. Kitchar) to approve the MAC Annual Report, Motion Passed 4-0.

   S. Bohmker reported on 306 new lode mining claims recently filed in Josephine County on or near Woodcock and $8 Mts. by non-local interests presumably for Nickel ores.

8. S. Bohmker made a motion (2nd J.Perkins) to adjourn passed 4-0 with no discussion,

   The MAC meeting adjourned at 2:22pm. Next scheduled MAC meeting is Wednesday, April 8, 2026 at 1pm at Ann Basker Auditorium.

Submitted by
Tom Kitchar – MAC Secretary

Josephine County Addictions, Mental and Public Health Advisory Committee (AMPAC)
Thursday, January 15, 2026, Options for Southern Oregon

1. Call to Order ~ Kelly Robinson - Meeting called to order 12:07 pm

- **Introductions**

Advisory Member Attendance:

Robinson, Kelly - CHAIR	**Yes**		
Bennett, Tiffany	**No**		
Huber-Kantola, Dan	**No**		
Watkins, Jessi	**Yes**		
McGregor, Lana	**Yes**		
Minor, Mike	**Yes**		
Krohn, Kathleen	**No**		
Valenzuela, David	**Yes**		

The quorum was satisfied.

Josephine County Board of Commissioner Liaison:		**No**
AMPAC Administrative Staff:	Shawn Martinez	**No**
	Shelly Uhrig	**Yes**
	Janet Fredrickson	**Yes**

Additional Attendees per Sign in Log:

Heather Letz	OPSC
Karla McCafferty	Options
Brandi Fogle	Max's Mission
Harmony Beckett	HIV Alliance
Jennifer Johnston	Siskiyou CHC
Connie Wilkerson	Continuum (formerly OnTrack)
Robin Hausen	Prevention

2. Approval of Minutes: Dave Valenzuela motioned to approve minutes, Mike second.

3. Old Business: No

4. BRHN:

- **Options: BHRN Funds**
  - **Grant was reduced substantially**
  - **Working within Resources**
  - **2 Peer supervisors, 3 CHW**
  - **Helps remove barriers with services available**
  - **Emergency Lodging**

- **Bi-lingual services available**

5. **Mental Health Update**
   - **Local crisis team in operation the last two years**
   - **Now 24/7 and a two person team since January**
     - **Collaboration with local police department helps divert from emergency rooms**
       - **Mobile crisis criteria**
     - **CFAA Plan, community plan for state-Approved**
       - **2 and maintain services**

6. **Public Health**
       - **Experiencing significant barriers in the department**
       - **Went from 24 staff members to 13 in the department**
       - **Department has made efforts for outreach**
       - **In the many efforts of remaining staff members, to programs have been lost due to limited resources**
       - **Grant for Reproductive Health awarded**
       - **Have a great nursing staff on the team**
       - **The clinic has 50% more as a daily flow of patients**
       - **Continued effort to reach people who experience barriers**
       - **Packet and booklets are available with information about STD's, reproductive health.**
       - **Texting platform is one week away from being available. QR code will be integrated as well**
       - **Partnering with Boost. Binder with vaccinations and resources**
       - **Partnered with Jackson County at the Health Fair**
       - **Planning to attend more events to connect with people**
       - **At the Recovery Fair, more swag was needed**

7. **Prevention: Robn Hausen**
   - **Full Time School Outreach position available**
   - **North Middle School-Summer program with Boys & Girls Club**
   - **Cave Junction: Ayden**
     - **Middle School kids are excited, 1k page reader-kids are wanting to read, 5th grade co-hort**
     - **Illinois Valley: Principle awarding kids on attendance**
   - **Gladiola: Taylor**
     - **Amazing with partners, Project Youth +**
     - **Gladiola method provides a roadmap and skills**
   - **Hidden Vally: Josh**
     - **Successful student, referred to Josh and is now 5 months without vaping**
     - **Student learned skills and vaping harms**
   - **LSV:**
     - **Crisis mobile for student in crisis**
     - **Restorative Justice circle**
     - **Home visits**
   - **North Valley: Jason**
     - **Athletic endeavors with middle school kids and home visits**
   - **Lisa: Tobacco**
     - **Cessation classes in schools, Lincoln Savage**
     - **Presenting in health classes within schools**

8. **Partner Updates:**

Siskiyou

- **Strategic Planning**
  - **Quality ways for access to services, identity of organization, and replace providers who have left**
  - **Access in Cave Junction**
  - **Delays are experienced in Grants Pass for appointments, Cave Junction as more availability**
  - **Community surveys are set to release soon**
  - **Full service walk-in clinic**

Choices-Clint

- **Robin retired**
- **New Clinical Supervisor**
- **Counselor in schools of IV, NV, GPHS working ½ days**
- **Good feedback has been received**
- **Looking for one more counselor**

Allcare-Lana

- **Experiencing issues with Medicare**
- **State-wide level of Behavioral Health payments**
- **Looking to see what all will entail for budgets**

HUB

- **Having good success, as well as referrals have been successful with engagement**

HIV Alliance-Harmony

- **Hiring new peer, looking to start in February, and ½ work will be in Cave Junction**
- **Resource Center**
  - **Accepting donations for winter clothes and shelf stable clothing**
  - **BHRN cuts**
    - **½ of staff**
    - **200 individuals tested**
    - **36 were a warm handoff to drug treatment program**
    - **16 unsheltered housing**
    - **120k syringes collected**
    - **1k of wound care supplies distributed**
    - **466 reports of Naloxone used monthly**

Max's Mission

- **HR services are up and running**
- **Peer & Grief support happens once a month**
- **Self-reported overdose, 327 last year in Josephine County**

OnTrack

- **Rebranded Recovery Services**
- **Keeping an eye on funding**
- **Contingency plans**

- **Full staffing and services**
- **Emergency lodging and positive outcomes**
- **Community partnerships for people needing lodging, referrals**
- **April 25'-end of 25', 119 emergency lodging, 73 to detox and residential**

Cobblestone:

- **A family treatment campus set to open at the end of 2026**
- **Family visitation center will be available in the facility, for youth going home**
- **Treatment services will be on-site**
- **A Trauma informed design**

JC Homeless Taskforce

- **The third gathering for strategic planning meeting will be soon**

Continuum: Connie

- **Jackson County Intensive Outpatient Center**
  - **A soft launch of the center is set for November in Medford**

GP Sobering Center: Heather

- **Pathways for the Deflection Center**
  - **Partnering with GP Police Department**
- **Making certain that funding is secure**

GP Police Department: Mike

- **Outreach position-Opioid funds: Funded**
- **Mobile Crisis Unit, been successful**
  - **Stabilization services for Families, youth and adults**

Three Rivers: Dave

- **Outreach Officer-Professional Development to Administration:**
  - **A 4 Student panel, yearly**
- **Outreach Officers are doing an amazing job in the schools**
- **Hired a Mental Health Professional**
- **Budget exercises are coming up soon.**

9. **Next Meeting, , 2026 @ 12:00pm in person Options for Southern Oregon Administration building, Conference room.**

Adjourned at 1:17pm

Respectfully submitted by:

Jessica Struffert 1/15/25

Jessica Struffert Date

//

//

This _____ day of _____, 2026.

_____

Vacant, Chair

_____

Ron Smith, Vice Chair

_____

Vacant, Commissioner